PAGE 1: HISTORICAL HYDROLOGICAL BASELINE (2000-2024)

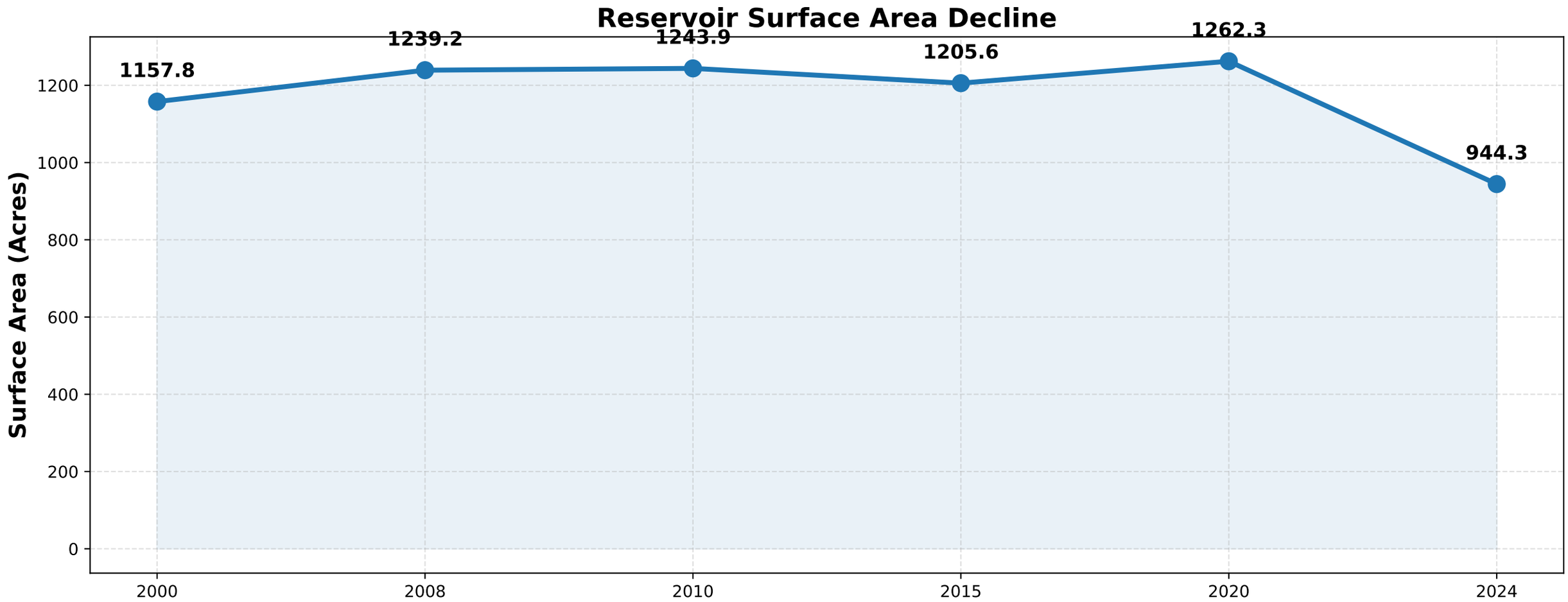

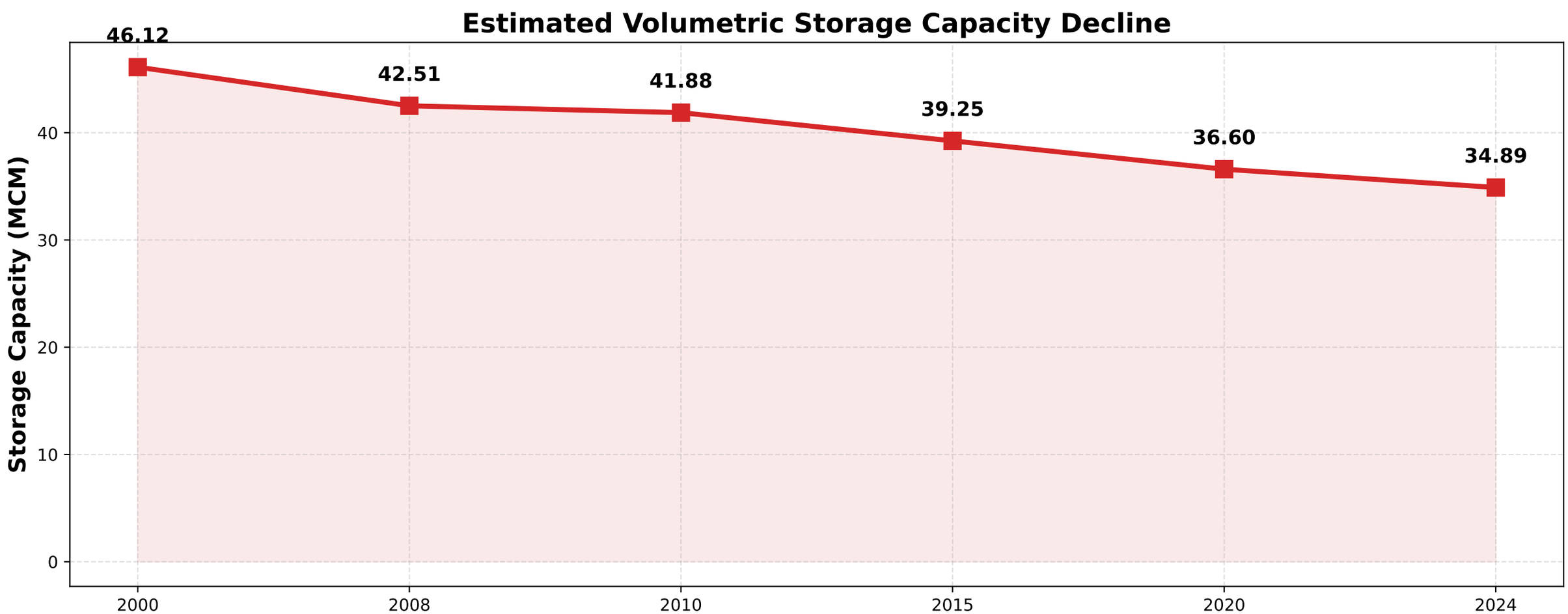

PAGE 2: CLIMATE TRENDS & FORCING METRICS

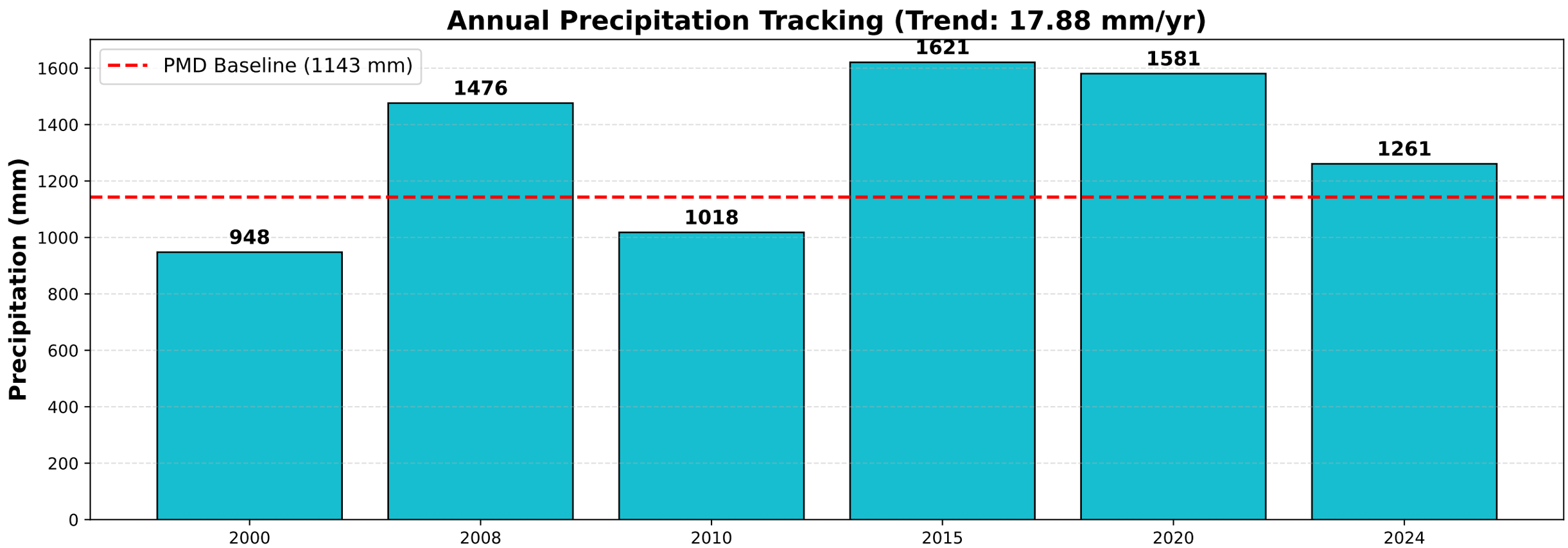

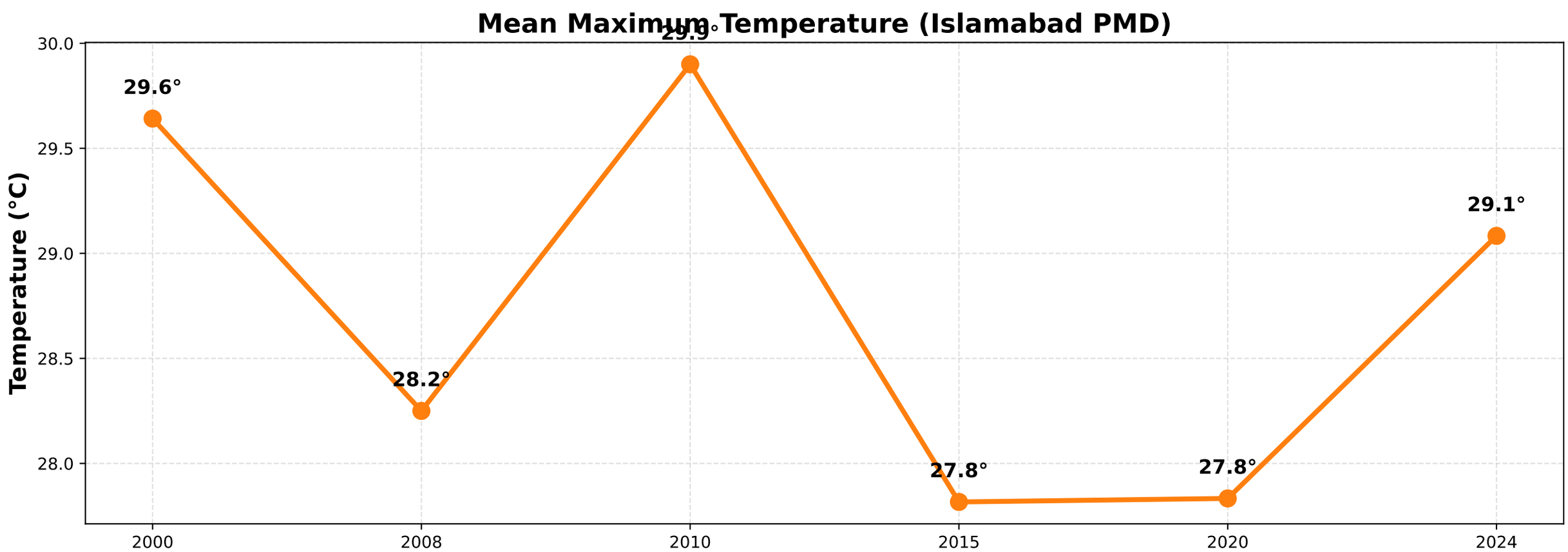

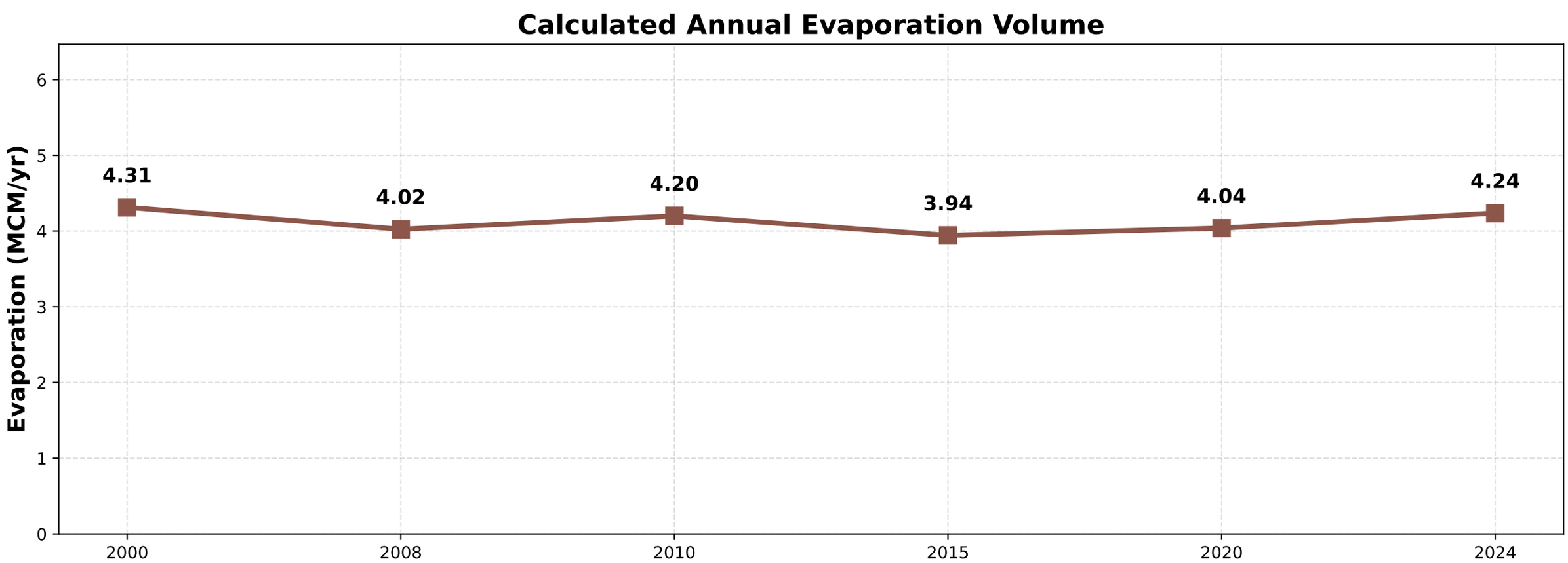

PAGE 3: THE SEDIMENT DRIVER (URBAN FOOTPRINT)

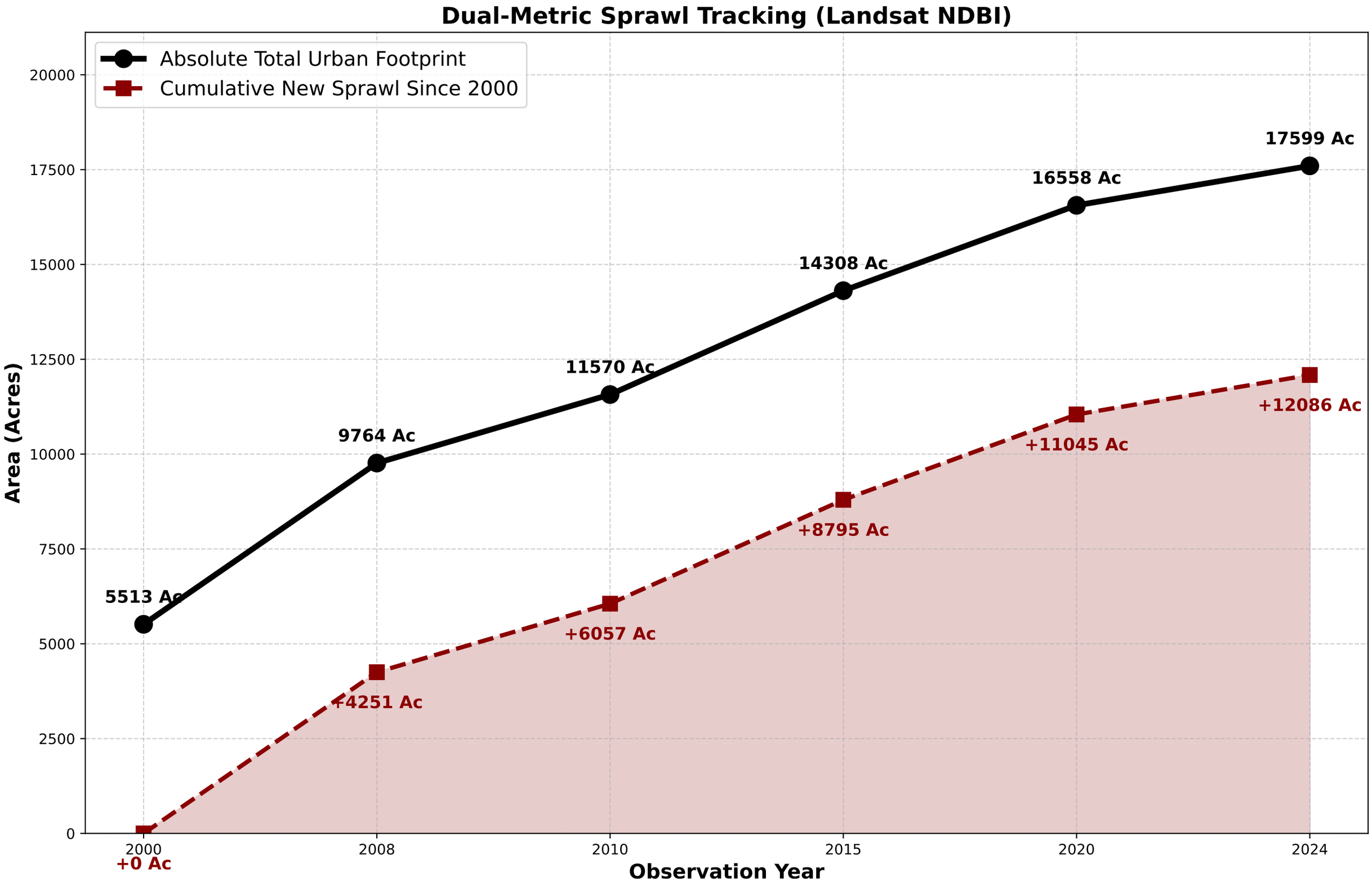

PAGE 4: UNMITIGATED MATHEMATICAL FORECAST

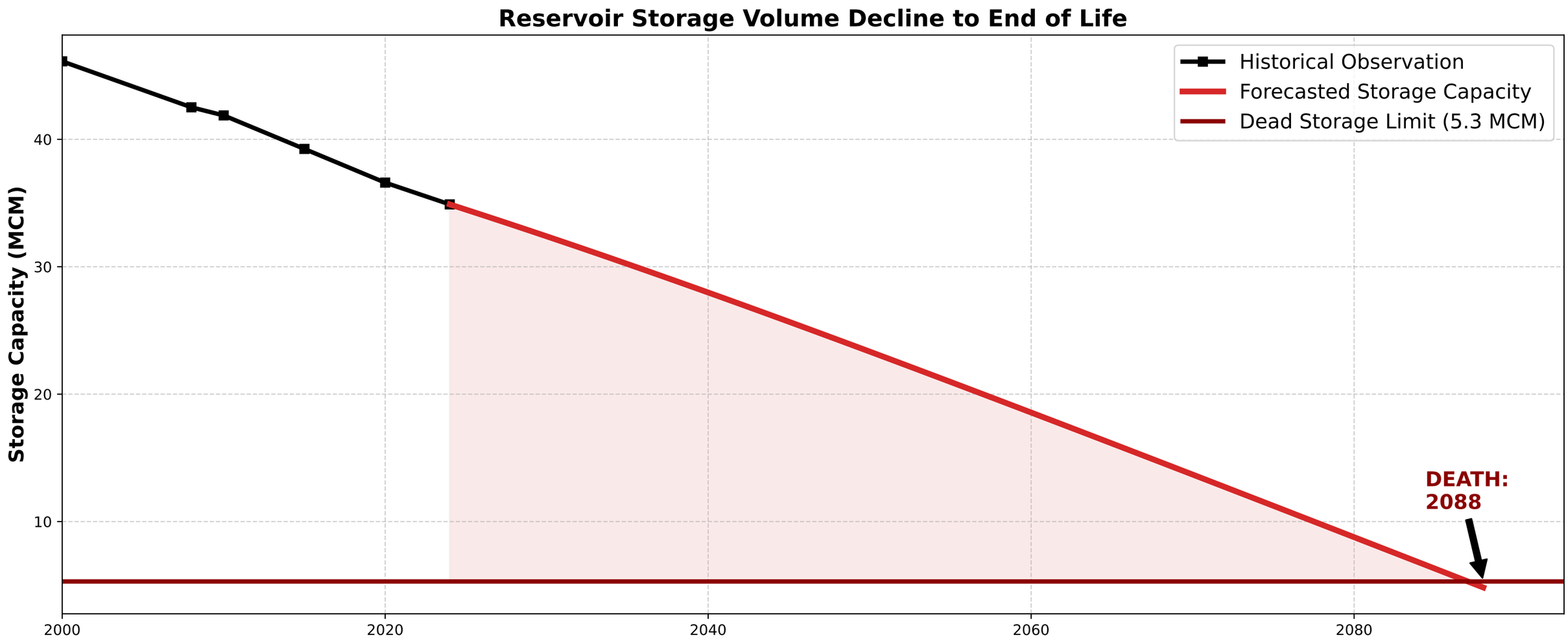

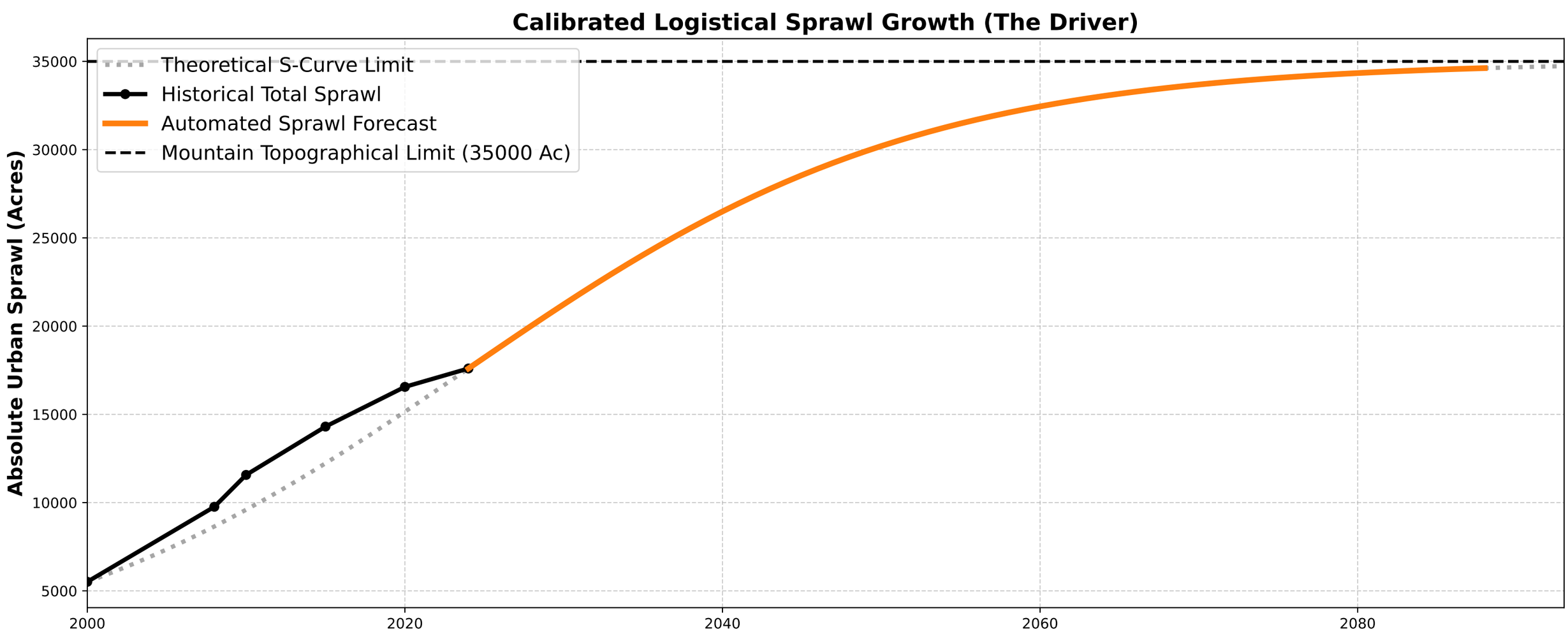

PAGE 5: UNMITIGATED SPATIAL FOOTPRINT (YEAR 2088)

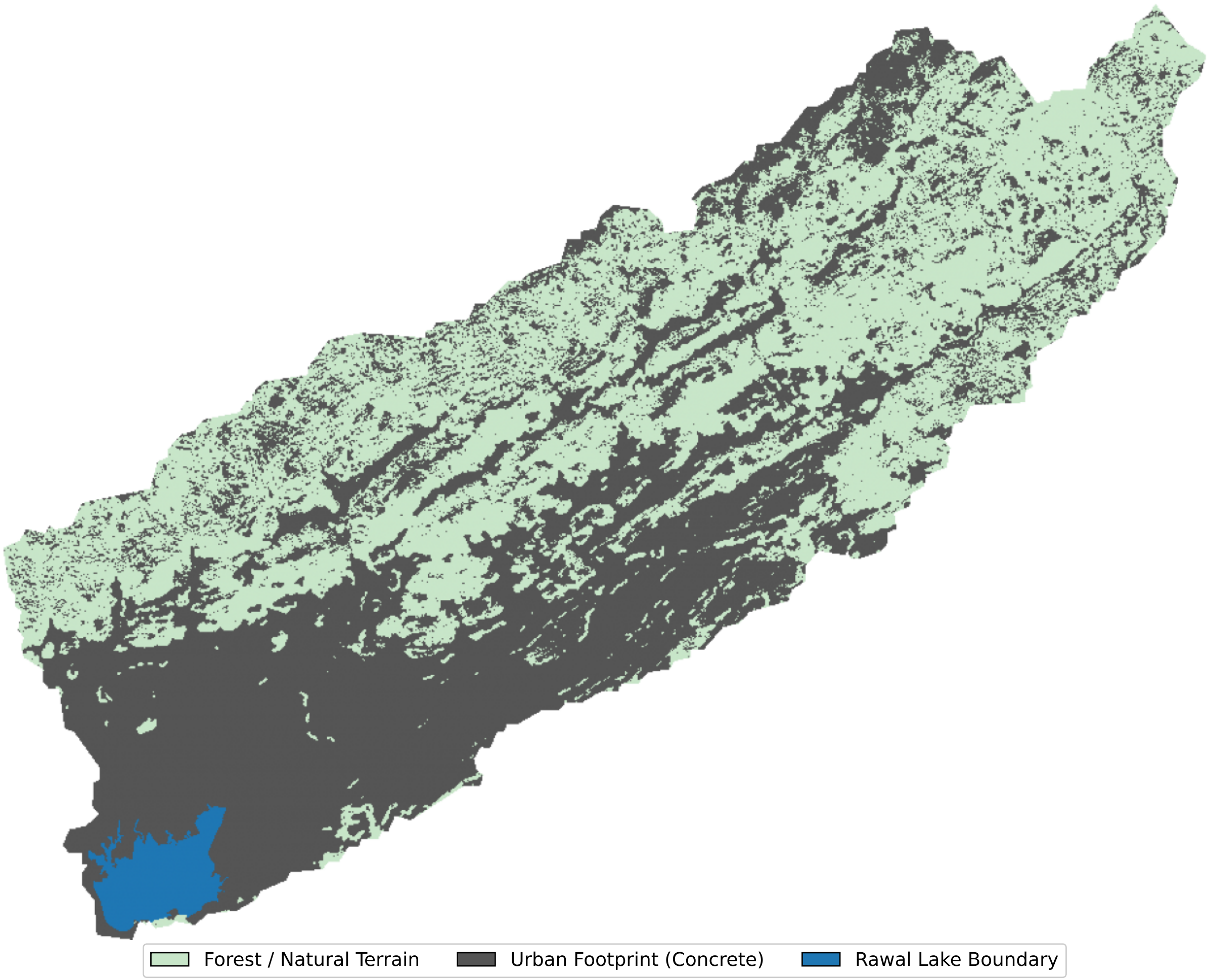

PAGE 6: MITIGATION POLICY SIMULATOR RESULTS

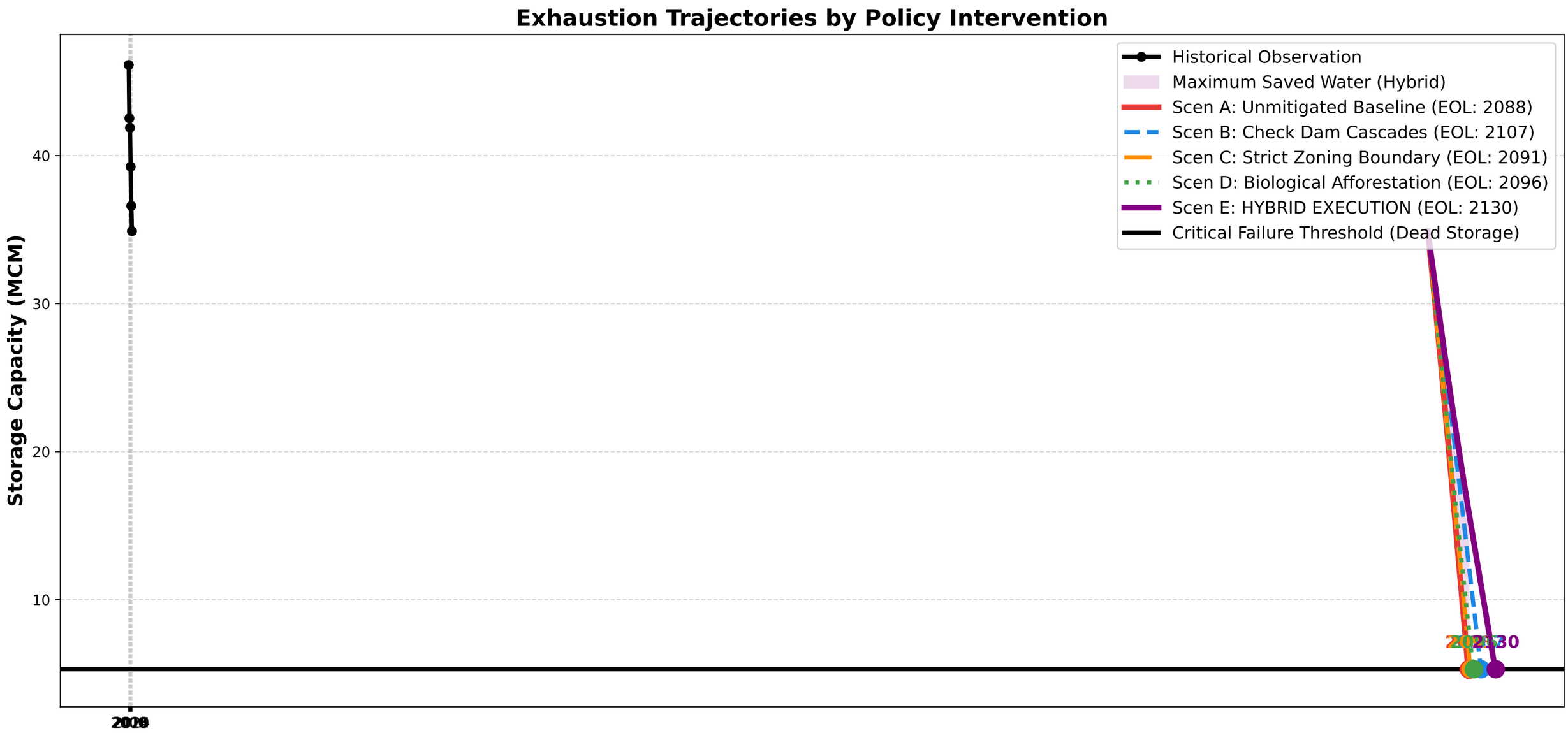

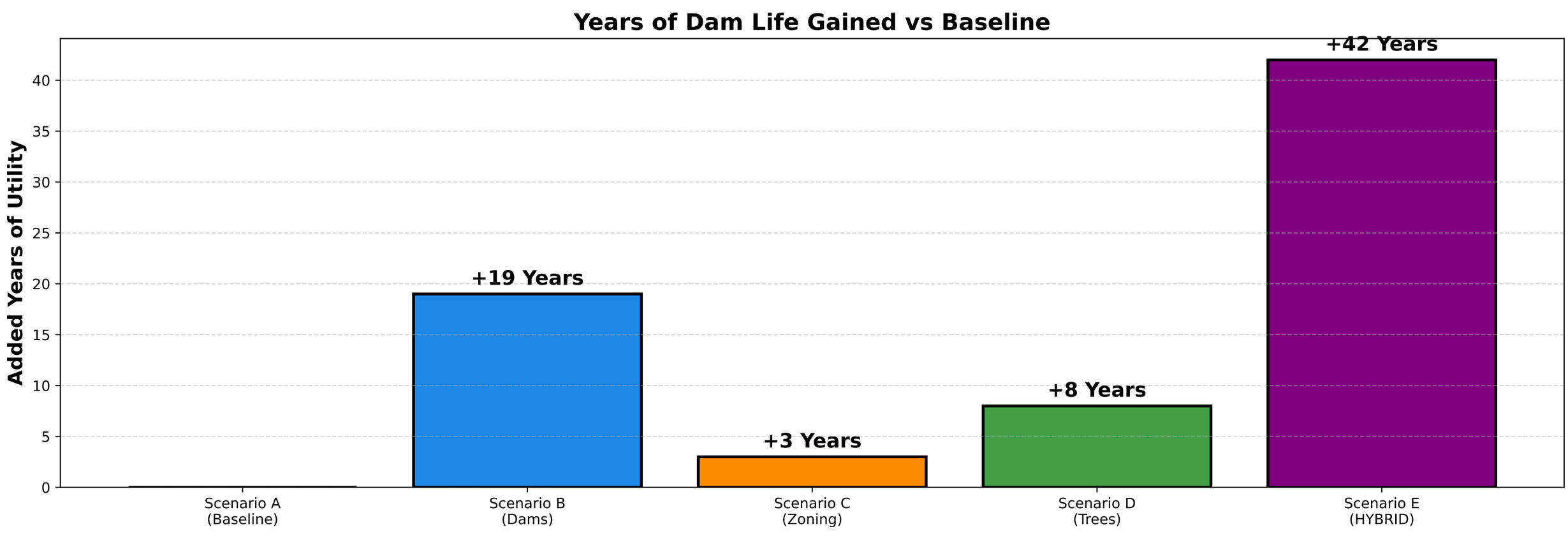

PAGE 7: SCENARIO B - HYDROLOGICAL INTERVENTION (2088)

Spatial Footprint (2088)

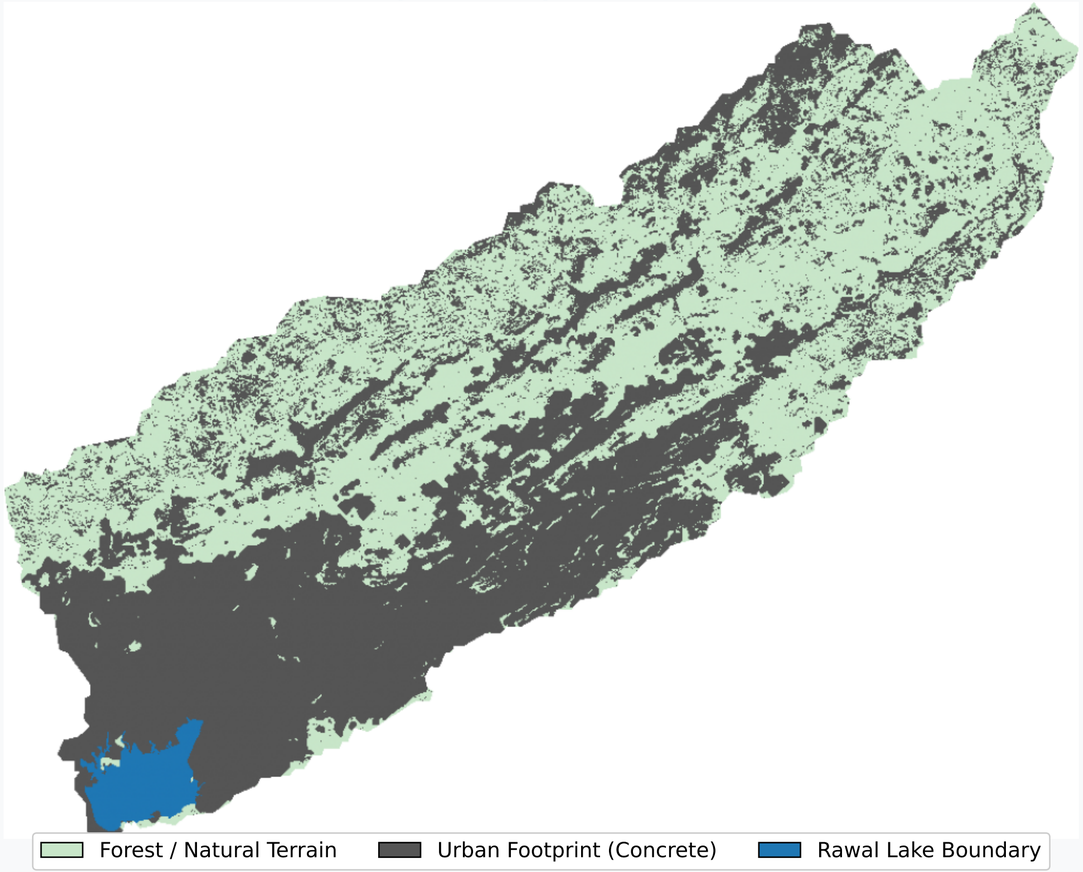

Life Extension Analysis (+19 Yrs)
+7.0 MCM Preserved at Failure Point

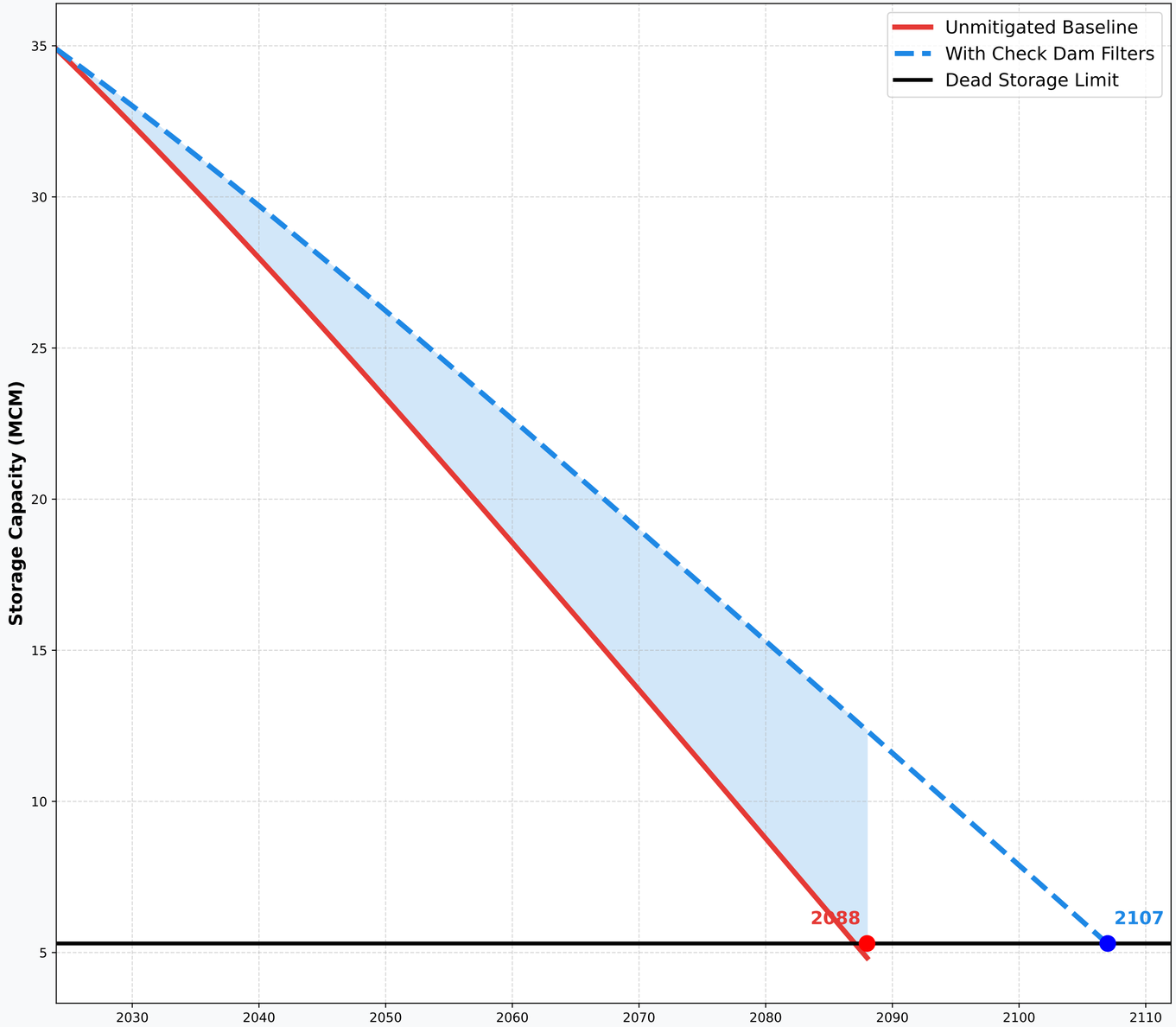

PAGE 8: SCENARIO C - STRICT ZONING FOOTPRINT (YEAR 2088)

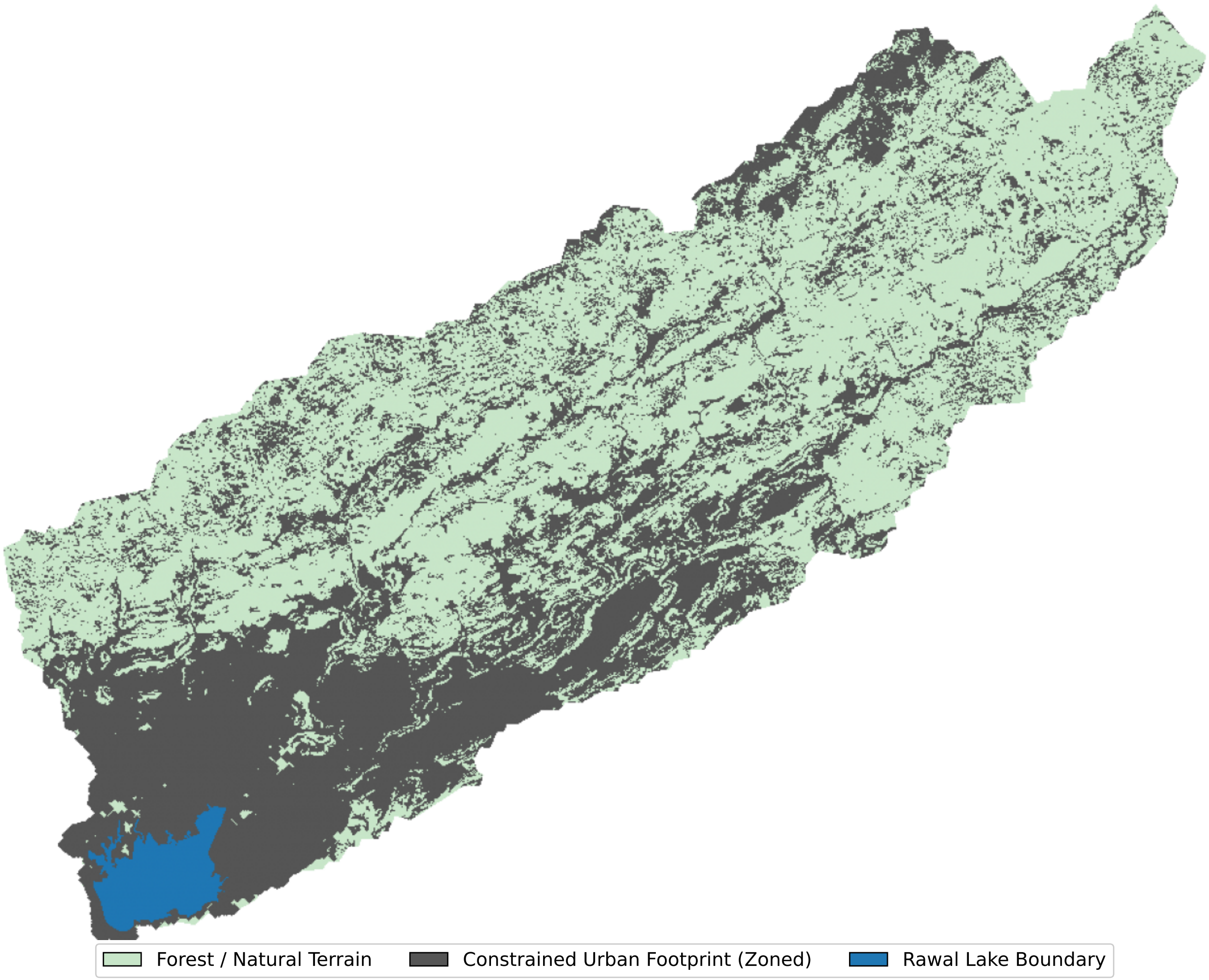

PAGE 9: SCENARIO D - AFFORESTATION RECLAMATION (YEAR 2088)

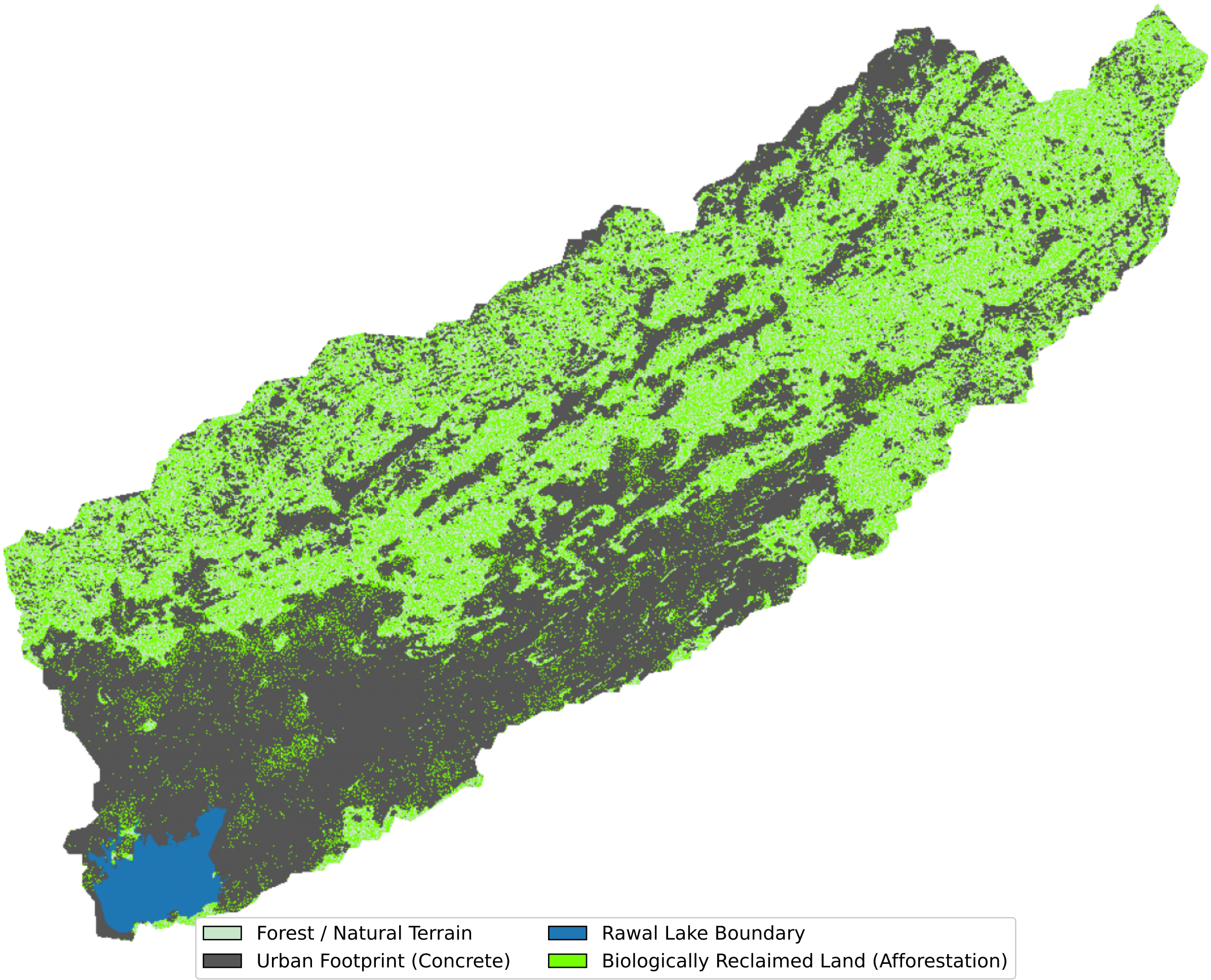
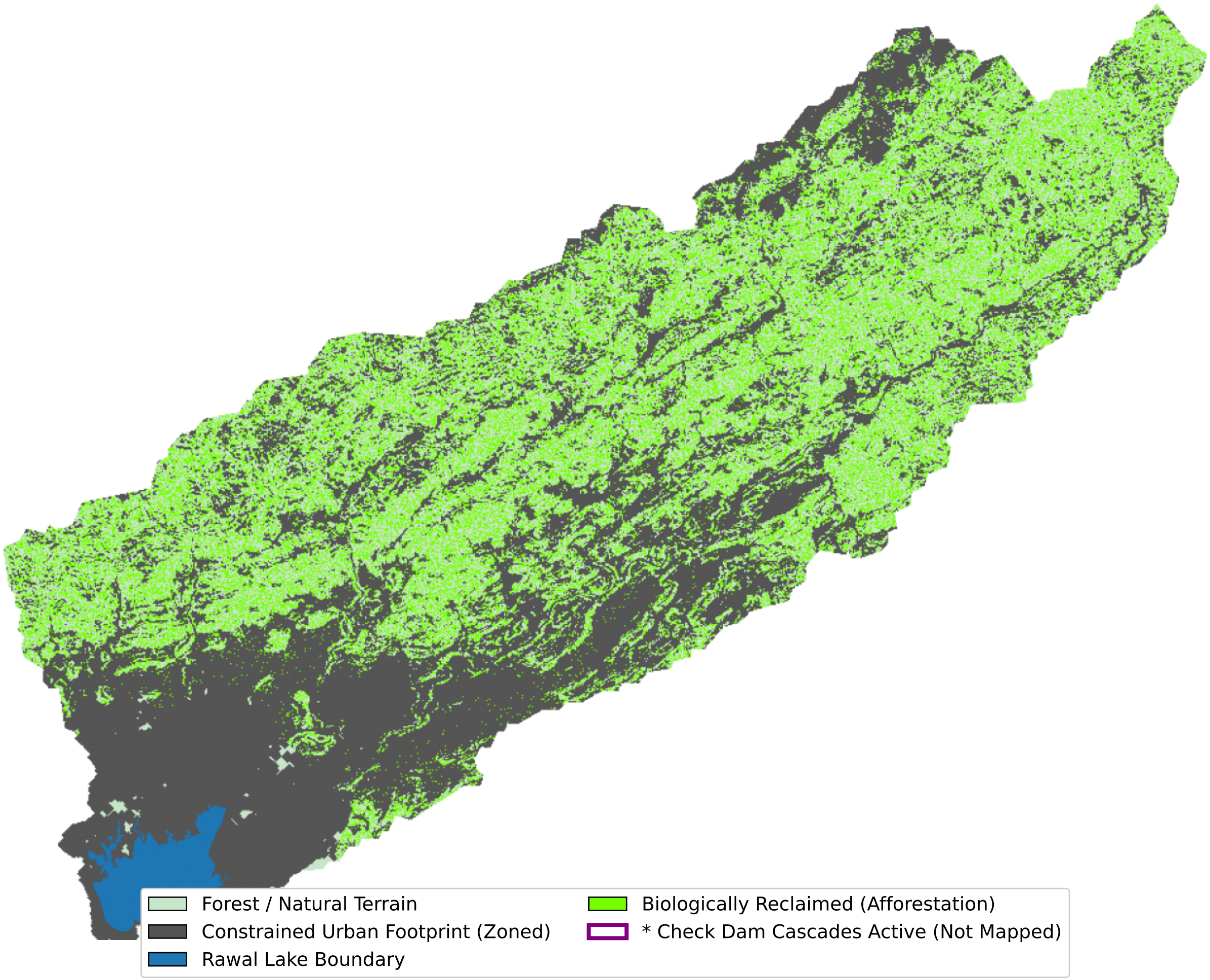
PAGE 10: SCENARIO E - ULTIMATE HYBRID FOOTPRINT (YEAR 2088)